Ancient Indian Geography

From Sacred Rivers to Mythical Continents

Early Geography in India

The Foundation of Knowledge

The earliest geographical ideas in India emerge from the **Rig Veda**, one of humanity's oldest sacred texts.

Ancient people demonstrated awareness of rivers, mountains, tribal territories, and cardinal directions. This reveals that systematic geographical knowledge existed during the Vedic period.

Ancient Indian Cosmology

Three Realms of Existence

Earth (Prithvi)

The physical world where humans live, described sometimes as **round or circular** in shape.

Sky (Dyaus)

The celestial realm or heaven, positioned above the earth.

Air (Antariksha)

The intermediate space between earth and sky.

Ancient Indians imagined the sky and earth as **two bowls facing each other**, with air occupying the space between them.

Rivers and Mountains of Ancient India

Sacred Rivers

- Sindhu (Indus)
- Sarasvati
- Ganga (Ganges)
- Yamuna

Major Mountain Ranges

- Himalaya
- Vindhya

These geographical features prove ancient Indians possessed **accurate knowledge of India's physical geography.**



Post-Vedic Expansion

Knowledge Becomes More Detailed

Epic Literature

Works like the **Mahabharata, Ramayana, and Puranas** described numerous regions, cities, and geographical features across India.

Religious Texts

Buddhist and Jain scriptures added further geographical details, expanding the scope of knowledge.

Foreign observers like **Megasthenes** (Greek ambassador) and **Al-Biruni** (Persian scholar) documented India's geography for the outside world.

The Seven Dvipas

Seven Continents Surrounded by Seas

Ancient Indian texts, particularly the **Puranas**, described the earth as divided into **seven dvipas** (islands or continents), each surrounded by different seas.

Jambudvipa

The central continent

Sakadvipa

Sacred island

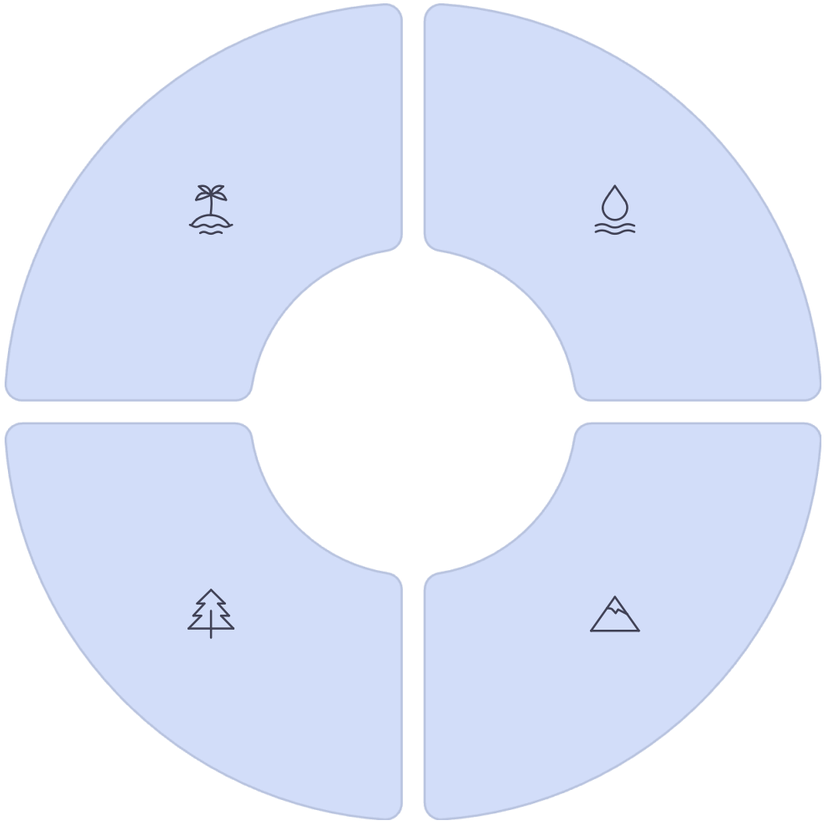

Kraunchadvipa

Legendary island

Kushadvipa

Mountainous land

These descriptions blended **geographical facts with mythological concepts**.

Jambudvipa: The Central Land

01

Central Position

Jambudvipa was considered the main land area of the seven dvipas.

02

Regional Divisions

It was divided into various regions and surrounded by seas.

03

Mount Meru at Centre

The sacred Mount Meru was believed to stand at the centre.

Bharatavarsha

The Land of India

The concept developed gradually after the 4th century B.C., mentioned in **Mahabharata, Puranas, and inscriptions.**

Bharatavarsha was described as the land **between the Himalayas in the north and the sea in the south**.

Madhyadesa
Central region

Udichya
Northern region

Pracya
Eastern region

Dakshinapatha
Southern region

Aparanta
Western region

These regions included many **janapadas** (territorial states) like Magadha, Kashi, Gandhara, and Kalinga.



The Role of Puranas

Most Detailed Source of Ancient Geography

Comprehensive Lists

Contained extensive lists of mountains, rivers, and sacred places across the subcontinent.

Regional Classification

Provided detailed descriptions of regional divisions and their characteristics.

Natural Features

Documented climate patterns, vegetation types, and geographical formations.

The Puranas masterfully combined **real geographical facts with mythology**, creating a unique blend of scientific observation and religious tradition.

Evolution of Geographical Knowledge

Vedic Period

Simple river-based descriptions

Post-Vedic Expansion

Detailed regional knowledge

Mythical Continents

Jambudvipa and seven dvipas

Ancient Indian geographical knowledge evolved from simple observations in the Vedic age to sophisticated regional classifications. Concepts like **Bharatavarsha** reflected expanding understanding of India's geography and its relationship with surrounding regions.